VISVESVARAYA TECHNOLOGICAL UNIVERSITY

"Jnana Sangama", Belagavi, Karnataka-590018

A MAJOR PROJECT REPORT

on

"AI-POWERED TRAFFIC SURVEILLANCE AND MANAGEMENT SYSTEM"

Submitted by

BHOOMIKA A L	**4YG22AI007**
HARSHITHA M	**4YG22AI012**
THANUSHREE M V	**4YG22AI027**
YASHASWINI B R	**4YG22AI031**

In the partial fulfilment of the requirement for the degree of

BACHELOR OF ENGINEERING

IN

ARTIFICIAL INTELLIGNECE & MACHINE LEARNING

Under the guidance of

Mr. DINESH S B.E M.tech

Associate Professor

An Initiative from Sri. M. S. Ramaiah Navkis College of Engineering, Hassan

Department of Artificial Intelligence & Machine Learning

NAVKIS COLLEGE OF ENGINEERING

Affiliated to VTU, Recognized by Govt. of Karnataka, Approved by AICTE

KIADB Thimmanahalli Industrial Area, NH-75, Kandali – 573217, Hassan, Karnataka

2025-2026

NAVKIS COLLEGE OF ENGINEERING

HASSAN 573217 – KARNATAKA

DEPARTMENT OF ARTIFICIAL INTELLIGENCE AND MACHINE LEARNING

CERTIFICATE

This is to Certify that the major project (BAI786) entitled **"AI-POWERED TRAFFIC SURVEILLANCE AND MANAGEMENT SYSTEM"** is carried out by BHOOMIKA A L (4YG22AI007), HARSHITHA M (4YG22AI012), THANUSHREE M V (4YG22AI027), YASHASWINI B R(4YG22AI031), bonafide students of **NAVKIS COLLEGE OF ENGINEERING, HASSAN** in partial fulfilment for the award of **BACHELOR OF ENGINEERING** in **ARTIFICIAL INTELLIGENCE AND MACHINE LEARNING** of the **VISVESVARAYA TECHNOLOGICAL UNIVERSITY ,BELAGAVI** during the year **2025 - 2026**. It is certified that all corrections/suggestions indicated for the Internal Assessment have been incorporated in the report deposited in the department library. The project report has been approved as it satisfies the academic requirements in respect of Project work prescribed for the Bachelor of Engineering degree.

Mr. Dinesh S
Project Guide
Dept. of AI & ML, NCE Hassan

Dr. M. Venu Gopala Rao
Principal
NCE, Hassan

Dr. Sathisha M S
Professor and Head
Dept. of AI & ML, NCE, Hassan

Name of the Examiners **Signature with Date**

1.

2.

NAVKIS COLLEGE OF ENGINEERING

HASSAN 573217 – KARNATAKA

DEPARTMENT OF ARTIFICIAL INTELLIGENCE & MACHINE LEARNING

DECLARATION

We hereby declare that the entire work embodied in this project work has been carried out by us at Navkis College of Engineering, Hassan, under the supervision of **Mr. Dinesh S**. This Project report has not been submitted in part or full for the award of any diploma or degree of this or any other University.

Name	USN	Signature
BHOOMIKA A L	**(4YG22AI007)**	
HARSHITHA M	**(4YG22AI012)**	
THANUSHREE M V	**(4YG22AI027)**	
YASHASWINI B R	**(4YG22AI031)**	

ABSTRACT

Traffic congestion, road accidents, and inefficient signal timing remain some of the most persistent challenges in rapidly urbanizing regions. Traditional surveillance systems rely heavily on manual monitoring, which is slow, error-prone, and incapable of analyzing traffic patterns in real time. With the growth of Artificial Intelligence (AI), modern traffic management systems can now automatically detect vehicles, estimate traffic density, identify violations, predict congestion, and optimize signal timing dynamically. This project, AI-Powered Traffic Surveillance and Management, presents a complete end-to-end intelligent traffic monitoring system using deep learning, computer vision. The system employs YOLO-based object detection for identifying vehicles, OpenCV modules for video analytics, and a rule-based logic engine for detecting traffic violations such as over speeding, signal jumping, and lane discipline issues. Further, the system incorporates a reinforcement-learning-based signal optimization module capable of reducing wait times and congestion. The project demonstrates how AI can automate real-time surveillance, improve road safety, reduce human effort, and support smart-city initiatives. The proposed solution is scalable, cost-effective, and adaptable for deployment across highways, intersections, toll booths, and urban road networks.

ACKNOWLEDGEMENT

We take this opportunity to express our sincere gratitude and respect to the **Navkis College of Engineering, Hassan** for providing us an opportunity to carryout Project.

We are ardently Thankful to **Dr. M. Venu Gopala Rao,** Principal, **Navkis College of Engineering, Hassan** for his encouragement and useful suggestions for carrying out the project successfully.

We are deeply grateful to **Dr. Sathisha M S., Professor and Head, Department of Artificial Intelligence & Machine Learning, Navkis College of Engineering, Hassan,** for his unwavering encouragement, guidance, and support.

We greatly acknowledge our guide **Mr.Dinesh S**, Department of Artificial Intelligence & Machine Learning, **Navkis College of Engineering, Hassan** for providing the required impetus and helping us for carrying out the Project successfully.

We respectfully thank all the **Faculty Members** and **Staffs** of the Department of Artificial Intelligence and Machine Learning, **Navkis College of Engineering, Hassan** for helping us in the completion of the Project.

We would like to thank all our **Friends,** who helped us directly or indirectly in the successful completion of the Project. Lastly but most importantly, we are thankful to our beloved **Parents and other Family members**, without whose blessings and constant inspiration this Project would not have been a success.

BHOOMIKA A L (4YG22AI007)
HARSHITHA M (4YG22AI012)
THANUSHREE M V (4YG22AI027)
YASHASWINI B R (4YG22AI031)

Table of Contents

	ABSTRACT	I
	ACKOWLEDGEMENT	II
	TABLE OF CONTENTS	III
	LIST OF FIGURES	IV
	LIST OF TABLES	V
1	**INTRODUCTION**	**1-7**
	1.1 Motivation	2-3
	1.2 Background	3-4
	1.3 Need for Intelligent Traffic Systems	4-5
	1.4 Challenges	6
	1.5 Organization of Report	6-7
2	**LITERATURE SURVEY**	**8-11**
	2.1 Comparative analysis in tabular form	8-9
	2.2 Research gap	9
	2.3 Problem Statement	10
	2.4 Scope and Objectives	11
3	**SYSTEM ANALYSIS AND DESIGN**	**12-15**
	3.1 Functional Requirements	12-13
	3.2 Non-Functional Requirements	13-15
4	**MODELING AND IMPLEMENTATION**	**16-29**
	4.1 Design Overview	16-17
	4.2 Functional Model/ Block diagram	17-19
	4.3 Overall Implementation	19-24
	4.4 Flowchart/ Algorithm	25-29
5	**RESULTS AND DISCUSSION**	**30-33**
6	**CONCLUSION AND FUTURE WORK**	**34-36**
7	**REFERENCES**	**37**

LIST OF FIGURES

Fig. No.	Figure Caption	Page No.
3.1	System Architecture of the AI-Powered Traffic Surveillance System	12
3.2	Functional Model of the Proposed Traffic Monitoring System	16
3.3	Block Diagram of AI-Based Vehicle Detection and Counting	17
4.1	Design Overview of Modeling and Implementation Workflow	19
4.2	Detailed Functional Block Diagram for Detection, Tracking, and Counting	21
4.3	Overall System Implementation Flow (Input → Detection → Dashboard)	25
5.1	Lane-wise Vehicle Counting Visualization	30
5.2	Dynamic Green Signal Time Calculation Results	31
5.3	Real-Time Dashboard Output Showing Live Detection and Counts	32
5.4	Vehicle Detection Results Using YOLOv8 (Sample Output Frames)	33

LIST OF TABLES

Table No.	Table Caption	Page No.
3.1	Functional Requirements of the Proposed System	12
3.2	Non-Functional Requirements of the System	13
3.3	System Design Considerations and Constraints	16
4.1	Summary of System Components Used in Implementation	19
4.2	Module-wise Functional Workflow for Detection and Counting	25
4.3	Algorithmic Steps for Real-Time Traffic Analysis	29
5.1	YOLOv8 Detection Accuracy Under Different Conditions	30
5.2	Lane-wise Vehicle Counting Results	31
5.3	Computed Green-Signal Time for Different Lanes	32
5.4	Real-Time Dashboard Output Summary	34

CHAPTER - 1

INTRODUCTION

Traffic congestion has emerged as one of the most critical challenges in modern cities due to rapid urbanization, increased vehicle ownership, and insufficient road infrastructure. Conventional traffic management systems rely on human-operated CCTV cameras, manual counting, and fixed-time traffic lights. These systems are unable to adapt to dynamic road conditions, leading to inefficient traffic flow, increased fuel consumption, and longer travel durations. Artificial Intelligence promises a revolutionary shift in this domain by automating surveillance and enabling intelligent decision-making. AI-powered traffic surveillance integrates real-time video processing, deep learning, and predictive analytics to monitor traffic conditions with high accuracy. Instead of passively recording footage, AI systems can actively interpret what is happening on the road — detecting congestion, identifying accidents, tracking vehicle behavior, and optimizing traffic lights accordingly.

The rise of affordable GPUs, advanced neural networks (such as YOLO, Faster-RCNN, and MobileNet-SSD), and widespread availability of CCTV networks increases the feasibility of deploying such systems even in mid-sized cities. With governments increasingly pushing smart city initiatives, AI-based traffic monitoring has become an essential component of the modern transportation ecosystem.

In recent years, the complexity of urban mobility has increased drastically. Cities face continuous pressure to improve transportation infrastructure, reduce road accidents, and enhance commuter safety. However, traditional approaches to traffic supervision often fall short because they depend on manual monitoring and outdated, non-adaptive systems. As a result, authorities struggle to keep up with the pace at which traffic patterns evolve during peak hours, festivals, emergencies, and unpredictable events.

Moreover, human-operated surveillance systems are vulnerable to fatigue, oversight, and delayed responses. In contrast, AI-powered solutions offer 24/7 automated monitoring, rapid data interpretation, and real-time decision-making. This makes AI not just an enhancement, but a necessity for modern traffic ecosystems.

Another major reason for adopting AI in traffic management is the explosive growth of video

data. With thousands of CCTV cameras deployed across urban areas, massive volumes of unstructured video footage are generated every day. Manually analyzing this data is nearly impossible. AI bridges this gap by converting raw video streams into actionable insights — such as traffic density statistics, violation detection, vehicle classification, and movement prediction.

AI systems also support data-driven urban planning, helping government agencies analyze long-term trends. Insights derived from AI analytics enable planners to identify heavily congested zones, evaluate the impact of road infrastructure changes, and make informed decisions such as widening roads, adjusting public transportation schedules, and redesigning intersections.

Furthermore, the integration of IoT sensors, cloud computing, and edge AI devices has opened new opportunities for developing fully automated smart intersections. These technologies can collaboratively share data, enabling traffic systems to coordinate across multiple junctions, provide priority passage to ambulances and fire trucks, and react instantly to evolving road situations.

Overall, the shift toward AI-enabled traffic surveillance is not simply a technological advancement — it represents a transformation in how cities manage transportation networks. By reducing human effort, improving safety, enhancing operational efficiency, and enabling intelligent automation, AI lays the foundation for future-ready smart cities.

1.1 Motivation

The rapid growth of urban populations has placed enormous pressure on existing road infrastructure, resulting in traffic congestion, increasing accidents, and frequent violations. Traditional traffic monitoring methods rely heavily on human operators who must manually observe multiple camera feeds, making the process slow, inefficient, and prone to errors. With cities becoming smarter, there is a strong need for an automated system that can monitor roads in real time and assist authorities in improving safety and traffic flow. Advances in Artificial Intelligence and Computer Vision provide a powerful opportunity to transform how traffic is managed by enabling automatic vehicle detection, tracking, and violation identification with high accuracy. This project is motivated by the desire to reduce human workload, improve road safety, and support intelligent decision-making through a modern AI-powered surveillance system that can operate continuously and respond instantly to critical traffic situations. The increasing complexity of urban transportation systems has made efficient traffic management a critical challenge for modern cities. Rapid urbanization, rising vehicle density, and inadequate monitoring infrastructure have collectively contributed to severe congestion, longer travel times, and a significant rise in road accidents. Traditional traffic surveillance methods, which depend

on continuous human observation of multiple CCTV feeds, often fail to provide timely and accurate insights due to human fatigue, limited attention span, and the sheer scale of monitoring required. Moreover, manual systems lack the ability to automatically detect violations, analyze traffic patterns, or predict emerging issues, resulting in delayed responses and reduced operational efficiency. Recent advancements in Artificial Intelligence (AI), Deep Learning, and Computer Vision offer powerful tools to overcome these limitations by enabling automated, real-time detection and analysis of traffic events. The motivation behind this project is to leverage these cutting-edge technologies to build an intelligent surveillance and management system capable of enhancing road safety, optimizing traffic flow, and supporting data-driven decision-making for smart city development. By integrating AI-driven vehicle detection, tracking, violation identification, and analytical reporting, this project aims to contribute towards establishing a more responsive, efficient, and resilient urban traffic ecosystem.

1.2 Background

Traditional traffic control systems have operated for decades using fixed-duration signal cycles that follow predetermined schedules, irrespective of real-time conditions on the road. While such systems were adequate when vehicle density was low, they are no longer suitable for today's rapidly growing urban environments. As cities expand and vehicle ownership rises, traffic patterns have become increasingly unpredictable, varying significantly across different times of the day, seasons, and locations. Fixed-timing signals fail to react to these dynamic conditions, leading to inefficient traffic flow, longer waiting times at intersections, unnecessary fuel consumption, and elevated greenhouse gas emissions. Urban road networks are typically equipped with CCTV cameras intended to support traffic monitoring and law enforcement. However, these systems depend on continuous human supervision. In practice, monitoring live feeds across dozens or hundreds of cameras is extremely challenging for operators. Human attention is limited, and fatigue, distraction, or simple oversight often results in missed incidents, delayed responses, and inconsistent monitoring quality. As a result, traditional surveillance setups provide only partial situational awareness and lack real-time intelligence. The rapid growth of urban populations has placed enormous pressure on existing road infrastructure, resulting in traffic congestion, increasing accidents, and frequent violations. Traditional traffic monitoring methods rely heavily on human operators who must manually observe multiple camera feeds, making the process slow, inefficient, and prone to errors. With cities becoming smarter, there is a strong need for an automated system that can monitor roads in real time and

assist authorities in improving safety and traffic flow. Advances in Artificial Intelligence and Computer Vision provide a powerful opportunity to transform how traffic is managed by enabling automatic vehicle detection, tracking, and violation identification with high accuracy. This project is motivated by the desire to reduce human workload, improve road safety, and support intelligent decision-making through a modern AI-powered surveillance system that can operate continuously and respond instantly to critical traffic situations.

With advancements in Artificial Intelligence, cities now have the potential to modernize and automate traffic management. AI-powered systems can interpret live video feeds with remarkable accuracy and speed, enabling continuous monitoring without human limitations. Computer vision algorithms identify vehicles instantly, while deep learning models can distinguish between different vehicle categories—such as cars, buses, trucks, two-wheelers, and auto-rickshaws—even in crowded or complex environments. Tracking algorithms analyze vehicle movement across frames, enabling the system to estimate speeds, identify lane changes, and detect violations such as red-light jumping or wrong-way driving. Beyond detection and analysis, AI enables true adaptive traffic control. Reinforcement learning algorithms can optimize traffic signal timings by learning from real-world traffic patterns. Instead of relying on static schedules, signals adjust dynamically based on live vehicle density, ensuring smoother traffic flow, shorter queues, and reduced congestion. Predictive analytics further enhances this capability by forecasting upcoming traffic surges, potential accident hotspots, or slowdowns, enabling proactive rather than reactive traffic management. Together, these AI-driven innovations represent a transformative shift in how cities approach transportation management

1.3 Need for Intelligent Traffic Systems

Urban traffic problems have become increasingly complex due to rapid urbanization, the explosive growth in vehicle population, and rising road safety concerns. The surge in the number of vehicles has led to severe congestion, frequent traffic jams, and a noticeable increase in road accidents. Traditional traffic monitoring methods depend heavily on manual supervision and fixed-time signal operations, making it difficult for authorities to manage multiple junctions simultaneously or respond efficiently to sudden changes in traffic flow. Limited manpower, inefficient signal timing, and outdated infrastructure result in long waiting times, unnecessary fuel wastage, and elevated pollution levels. Furthermore, emergency vehicles such as ambulances and fire engines often struggle to navigate through congested roads, leading to critical delays in reaching their destinations. AI-powered traffic surveillance systems directly

address these challenges by offering automated, continuous, and real-time monitoring of road conditions. Using computer vision, deep learning, and intelligent analytics, these systems can detect vehicles, predict congestion, identify accidents, and monitor traffic violations with high precision. They generate instant alerts, assist authorities in timely decision-making, and dynamically adjust traffic signals using data-driven reinforcement-learning models. These AI-enabled solutions perform consistently even in complex conditions such as heavy traffic, nighttime scenarios, or adverse weather. By reducing human dependency, improving accuracy, optimizing traffic flow, and giving priority to emergency vehicles, AI systems contribute significantly to creating safer, smarter, and more efficient urban transportation networks.

Problems in Urban Traffic

- Rapid increase in vehicle population
- Growing number of road accidents
- Inefficient manual monitoring by traffic personnel
- Fixed-time traffic signals that do not adapt to real-time conditions
- Long queues and idle-time fuel wastage
- Difficulty in managing multiple intersections simultaneously
- Emergency vehicles facing delays in congestion
- Higher pollution levels due to prolonged idling
- Limited situational awareness in traditional CCTV monitoring

How AI Addresses These Problems

- Fully automated and continuous traffic monitoring
- Real-time analysis of video streams
- Instant alerts for accidents, violations, and congestion
- Vehicle detection, classification, and tracking with high accuracy
- Dynamic and data-driven signal control using AI models
- Reduced need for human intervention and supervision
- Improved emergency vehicle clearance
- Better traffic prediction using AI-based analytics
- Reliable performance even in challenging lighting or weather conditions

1.4 Challenges

Despite the widespread use of CCTV cameras and the presence of traffic personnel, current traffic management systems continue to face several operational and infrastructural challenges. One of the primary issues is the difficulty traffic operators face in monitoring multiple video feeds simultaneously, which often results in delayed detection of accidents, rule violations, or abnormal activities. Environmental conditions such as rain, fog, low light, glare, and improper camera placement further affect the clarity and reliability of captured footage, making manual surveillance even more difficult and increasing the chances of misinterpretation. Traditional systems lack automation and depend heavily on human judgment, which introduces fatigue, inconsistency, and error into the decision-making process.

In addition to visual limitations, existing systems fail to integrate real-time data from multiple junctions, leading to fragmented monitoring and slow coordination between control rooms and field units. There is also a significant delay in incident response due to the absence of instant alert mechanisms and automated reporting tools. Moreover, most traditional infrastructures do not support intelligent features such as vehicle classification, congestion estimation, violation detection, or behavior prediction, significantly restricting proactive traffic management.

Another major challenge lies in the inability of conventional systems to scale efficiently as cities grow. Increasing traffic density puts additional strain on manual monitoring, causing authorities to miss critical events during peak hours. Furthermore, the absence of historical data analytics prevents long-term planning, making it difficult to identify accident-prone zones, peak congestion periods, and underlying trends that contribute to traffic inefficiencies. These limitations collectively highlight the urgent need for an intelligent, AI-driven traffic management system capable of continuous monitoring, rapid incident detection, integrated analytics, and data-driven decision support. Such a system can enhance accuracy, minimize human workload, improve road safety, and contribute to smart and sustainable urban transport solutions.

1.5 Organization of Report

This report is structured into several chapters, each focusing on a specific aspect of the development and evaluation of the AI-Powered Traffic Surveillance and Management System.

The preliminary sections include the Abstract, Acknowledgement, Table of Contents, List of Figures, and List of Tables, which provide an overview of the document and its visual elements.

Chapter 1 – Introduction presents the overall context of the project. It explains the motivation

behind choosing this topic, provides background information on traffic monitoring systems, discusses the need for intelligent traffic solutions, highlights key challenges in current systems, and concludes with an outline of the report organization.

Chapter 2 – Literature Survey reviews existing research and related works in the domain of intelligent transportation systems and computer-vision-based traffic monitoring. It includes a comparative analysis in tabular form, identifies the research gap, presents the problem statement derived from prior studies, and outlines the scope and objectives of the proposed system.

Chapter 3 – System Analysis and Design discusses the fundamental requirements of the system. It defines the functional and non-functional requirements necessary for developing an AI-based traffic surveillance solution and provides a detailed analysis of the system's design considerations.

Chapter 4 – Modeling and Implementation explains the technical development of the project. It begins with an overview of the design approach, followed by the functional model and block diagram illustrating the system workflow. The chapter then elaborates on the implementation details and presents flowcharts or algorithms that guide the real-time processing of traffic video streams.

Chapter 5 – Results and Discussion presents the experimental outcomes obtained from the system. It includes performance evaluation, detection accuracy, screenshots, graphical results, and a detailed analysis of the system's effectiveness in real-world scenarios.

Chapter 6 – Conclusion and Future Work summarizes the key findings, achievements, and contributions of the project. It also highlights potential enhancements and future extensions that can further improve the system.

Finally, the **References** section lists all the scholarly articles, books, datasets, and tools referred to throughout the project, ensuring academic credibility and traceability.

CHAPTER - 2

LITERATURE SURVEY

Sl.No	Study Title (Year)	Methodology	Merits	Demerits
1	Deep Reinforcement Learning for Traffic Signal Control (2019)	Applied deep reinforcement learning (DRL) to adaptive signal timing using traffic simulation data.	Improves traffic flow and reduces waiting time; self-learning capability.	High computational cost; performance depends on simulation accuracy.
2	IoT-based Smart Traffic Monitoring (2019)	Developed IoT sensor network with cloud data processing for real-time traffic monitoring.	Low-cost implementation; scalable for smart cities.	Privacy concerns; sensor failures affect accuracy.
3	Multi-Agent Systems for Urban Traffic (2020)	Used agent-based modeling to simulate vehicle interactions and traffic coordination.	Captures complex behaviors; flexible modeling approach.	High complexity; calibration challenges.
4	Computer Vision for Vehicle Detection (2020)	Applied CNN-based image recognition for automatic vehicle detection and counting.	Accurate detection in real time; adaptable to cameras.	Performance drops in poor weather/lighting.
5	Big Data Analytics for Traffic Prediction (2021)	Analyzed GPS and mobile phone data using machine learning models.	Handles large-scale data; improves congestion prediction.	Data privacy issues; requires high storage capacity.
6	Edge Computing for Intelligent Transportation (2021)	Implemented edge servers to process traffic data locally instead of cloud.	Low latency; reduces bandwidth needs.	Limited processing power on edge devices.
7	AI-driven Autonomous Vehicle Coordination (2022)	Used deep learning to coordinate AVs in intersections without signals.	Reduces collisions; improves efficiency.	Requires high AV penetration; safety concerns.
8	Blockchain-enabled Traffic Data Sharing (2022)	Blockchain for secure and decentralized traffic data sharing among stakeholders.	Ensures transparency and security; prevents tampering.	High energy use; scalability issues.

9	Digital Twin for Smart Traffic (2023)	Created digital twin models of urban traffic for simulation and optimization.	Enables predictive management; integrates with IoT and AI.	High initial cost; requires large datasets.
10	Hybrid AI Models for Traffic Forecasting (2024)	Combined LSTM + Graph Neural Networks for short-term traffic forecasting.	High prediction accuracy; captures spatial-temporal dependencies.	Complex training; needs high computational resources.

2.2 Research Gap

Although significant advancements have been made in traffic management research from 2019 to 2025, several gaps remain unaddressed when these studies are viewed collectively. Early works using deep reinforcement learning and IoT-based monitoring improved signal control and data collection, but most systems lacked real-time visual analysis and depended heavily on sensors or simulations, reducing practicality in complex urban environments. Multi-agent and big-data-based systems successfully modeled traffic behavior and congestion patterns, yet they did not address real-time incident detection such as accidents, violations, or wrong-way driving. Studies focusing on computer vision–based vehicle detection achieved better accuracy, but their performance degraded under challenging weather or lighting conditions, and many failed to integrate tracking, violation detection, or analytics into a unified framework. Edge computing solutions reduced latency, but they faced processing limitations for running advanced deep learning models. Autonomous vehicle coordination and blockchain-based traffic sharing offered futuristic benefits but required unrealistic infrastructure maturity, high adoption levels, and complex integration, limiting immediate real-world applicability.

Digital twin and hybrid AI forecasting models provided strong prediction capabilities but lacked mechanisms for real-time visual surveillance, vehicle behavior analysis, or automated alerting. Across all studies, a major gap persists: the absence of an end-to-end AI-powered system that integrates real-time video analysis, vehicle detection, tracking, violation identification, congestion estimation, and actionable analytics within a single unified solution. Most research focuses on isolated modules rather than a scalable, deployable traffic management architecture suitable for current smart-city needs.

Therefore, there is a clear research gap for developing a comprehensive, real-time AI-driven traffic surveillance and management system capable of continuous integrated data analytics, and automated decision support addressing the limitations of existing standalone approaches.

2.3 Problem Statement

With the rapid growth of urban populations and the increasing number of vehicles on the roads, traffic congestion has emerged as a critical challenge for cities around the world. Traditional traffic signal systems, which operate on fixed timers, are unable to adapt to continuously changing road conditions. As a result, vehicles often experience unnecessarily long waiting times at intersections—even when lanes are empty or lightly occupied—and during peak hours, this inflexibility leads to severe congestion, long queues, and inefficient traffic flow across major junctions.

Furthermore, several issues intensify the problem, such as:

- Delayed emergency response, where ambulances, fire trucks, and police vehicles struggle to move through heavily congested roads.
- Lack of real-time monitoring, making it difficult for authorities to quickly detect accidents, traffic violations, or abnormal road conditions.
- Increased number of accidents, often caused by unmanaged intersections and inconsistent traffic behavior.
- High pollution levels, resulting from prolonged idling and stop-and-go traffic patterns.
- Limited human resources, which makes continuous manual monitoring impractical and error-prone.

These factors significantly reduce transportation efficiency and impact urban life. Given these challenges, there is a pressing need for an **intelligent, adaptive, and automated traffic management system** that leverages Artificial Intelligence, computer vision, and existing surveillance infrastructure to monitor traffic conditions in real time. Such a system should be capable of:

- Dynamically optimizing signal timings based on live traffic flow,
- Detecting anomalies and traffic violations,
- Prioritizing emergency vehicles, and
- Assisting authorities with data-driven decision-making.

The ultimate goal is to develop a smarter, safer, and more efficient urban transportation environment that can sustainably accommodate increasing traffic demands.

2.4 Scope of the Project

The scope of this project encompasses the development of an intelligent traffic surveillance system capable of automating key aspects of urban traffic management. The system focuses on implementing AI-based vehicle detection using the YOLO deep learning model, along with real-time video processing facilitated through OpenCV. It also includes traffic density estimation to assess congestion levels and a violation detection module capable of identifying incidents such as red-light jumping and over speeding.

Objectives

- Build an AI system that performs accurate vehicle detection in real-time
- Estimate traffic density dynamically
- Detect common traffic rule violations
- Assist in intelligent signal optimization
- Provide a scalable model suitable for smart-city deployment
- Reduce human monitoring effort Improve overall traffic safety and efficiency

CHAPTER - 3

SYSTEM ANALYSIS AND DESIGN

3.1 Functional Requirements

These are the features the system **must perform**, based on the scripts and architecture found inside your uploaded project.

1. Real-Time Traffic Video Input

- The system must accept live CCTV/IP camera feed or uploaded video files.
- The system should support webcam, RTSP streams, or local videos.

2. Vehicle Detection

- Detect different types of vehicles (car, bike, bus, truck, etc.) using the trained YOLO model inside **models/**.
- Perform frame-by-frame detection with accurate bounding boxes.

3. Vehicle Counting

- Count vehicles in a lane or region of interest.
- Continuously update **vehicle_count.txt** based on detection results.

4. Lane Detection and Lane-wise Counting

- Use defined ROI coordinates or lane boundaries to classify vehicles per lane.
- Update **lane_count.txt** with lane-wise traffic density.

5. Traffic Signal Time Calculation

- Using **green_signal_time.py**, the system must calculate optimized green signal time based on vehicle density.
- Adjust timings dynamically depending on lane load.

6. Real-Time Web Dashboard

- Display the live detection output through the **Flask app (app.py)**.
- Show vehicle count, lane count, and processed frames in the browser UI (templates/index.html).

7. Image and Video Processing

- The user should be able to upload an image/video and see detection results.
- Display processed results in the **static/** output folder.

8. Data Logging

- Store detection results, number of vehicles, timestamps, and lane counts in text/log files for analysis.

9. Video Recording and Snapshot

- Capture processed frames and allow saving output images and clips.

10. Error Handling

- System must handle:
  - Missing camera input
  - Incorrect video format
  - Model loading errors
  - Network issues (for live streams)

3.2 Non-Functional Requirements

These define **quality attributes** of the system (performance, usability, scalability, etc.)

1. Performance Requirements

- **Detection speed:** System must process at least **15–30 FPS** for live video.
- **Low latency:** Real-time delay should not exceed 1 second.
- **Optimized model loading:** YOLO model should load within 2–3 seconds.

2. Reliability Requirements

- The system must run continuously without crashing.
- Must handle dropped frames or temporary camera disconnections.
- Backup counts should auto-save in text files to prevent data loss.

3. Scalability Requirements

- Ability to add more cameras or streams in future versions.
- Models folder should support multiple vehicle detection weights.
- Flask backend should be expandable to serve more dashboard modules.

4. Usability Requirements

- User interface must be simple and intuitive.
- Should support:
  - Upload button
  - Live feed button
  - Display area for live detection
  - Vehicle count indicators
- Web UI should work on mobile and desktop browsers.

5. Maintainability Requirements

- Code should be modular with separate scripts:
  - live_detection.py
  - video_detection.py
  - vehicle_detection.py
  - green_signal_time.py
- Easy to update YOLO models by placing new weights in **models/** folder.
- All configuration values should be editable (paths, ROI, thresholds).

6. Security Requirements

- Prevent unauthorized access to the live dashboard.
- Input validation to avoid malicious file uploads.
- Protect the model files and internal routes.

7. Accuracy Requirements

- Vehicle detection mAP should be above **80%** under normal lighting.
- Lane counting accuracy should be above **85%**.
- Traffic signal suggestions should reflect true density.

8. Compatibility Requirements

- The system must run on:
  - Windows or Linux
  - Python 3.x environment
  - Flask-supported browsers (Chrome, Firefox, Edge)
- Support for CPU and GPU execution.

9. Availability Requirements

- System should be operational 24×7.
- Restart time should be less than 10 seconds after failure.

10. Documentation Requirements

- README.md must contain:
  - Installation steps
  - Dependencies (requirements.txt)
  - Usage instructions
- Scripts should be commented for future developers.

CHAPTER - 4

MODELING AND IMPLEMENTATION

4.1 Design Overview

Goal: Build an end-to-end AI-powered traffic surveillance module that ingests video (live or prerecorded), detects & tracks vehicles, counts per-lane traffic, computes optimized green-signal times, and displays results via a web dashboard.

High-level components (mapped to repository files):

- **Input & I/O**
  - Video sources: webcam / RTSP / video files — handled by live_detection.py and video_detection.py.
  - Web interface (upload / live view): app.py, templates/, static/.
- **Perception (Vision)**
  - Vehicle detection model and inference logic: vehicle_detection.py, models/.
  - Live detection wrapper integrating frame capture + detection: live_detection.py, video_detection.py.
- **Analytics & Logic**
  - Vehicle counting and lane-wise aggregation: logic embedded across vehicle_detection.py, live_detection.py and text outputs vehicle_count.txt, lane_count.txt.
  - Green-signal time calculation based on counts: green_signal_time.py.
- **Presentation & Persistence**
  - Flask dashboard to stream processed frames and show counters: app.py, templates/index.html (and other templates).
  - Logs and simple persistence: vehicle_count.txt, lane_count.txt.
- **Utilities**
  - show_image.py — utility to preview frames/images.
  - requirements.txt — Python dependencies.
  - README.md — usage instructions.

Design principles

- **Modularity:** Separate modules for detection, live-wrapping, dashboard, and signal timing to allow independent upgrades.

- **Real-time-first:** Optimize for low-latency pipeline (frame capture → inference → postprocessing → display).
- **Pluggable models:** models/ folder for switching detector weights; detection code should be model-agnostic where possible.
- **Lightweight UI:** Minimal Flask app for quick deployment

4.2 Functional Model/ Block diagram

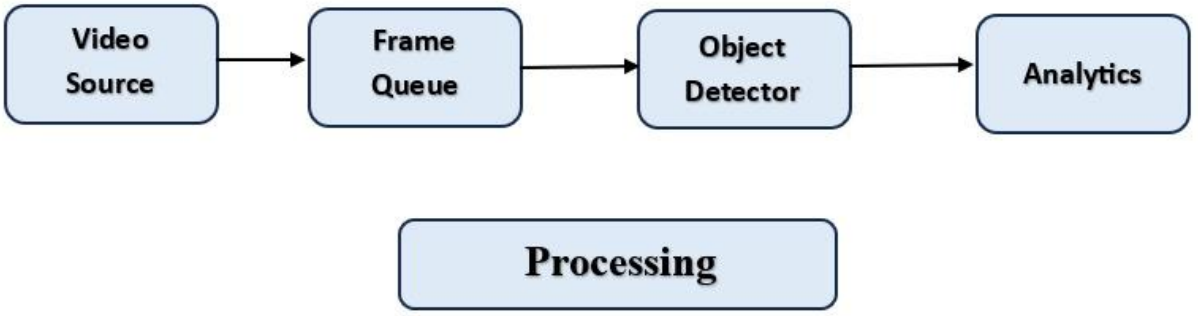

Block-by-block detailed info:

1. Video Source

The system begins by capturing live footage from:

- Roadside CCTV cameras
- Highways and junction-mounted IP cameras
- Traffic surveillance drones or smart poles

These video streams act as the **primary input**, continuously supplying real-time visuals of traffic movement.

Role in the System

- Provides uninterrupted traffic video data
- Acts as the starting point for AI-based analysis
- Ensures real-time communication with the processing module

2. Frame Queue

The captured video is converted into individual frames and stored temporarily in a **frame buffer or queue**. This component maintains a smooth flow between video capture and AI detection processes.

Why This Stage Is Essential

- Prevents frame loss due to processing delays
- Maintains synchronization between input and detection speed
- Supports stable real-time performance even under heavy load

The frame queue ensures efficiency and reliability of the entire system.

3. Object Detector

This is the **core AI engine** of the project, powered by deep learning models like **YOLOv8**.

It performs:

- **Vehicle detection** (car, bike, bus, truck, auto, etc.)
- **Object tracking across frames**
- **Classification** of detected traffic elements

Functions

- Identifies objects within each frame
- Draws bounding boxes around moving vehicles
- Extracts movement and behavioral patterns
- Sends structured results for traffic analytics

This stage converts raw video frames into **actionable, labeled data**.

4. Analytics

The processed detection results are forwarded to the **Analytics Module**, which performs high-level traffic evaluation and generates meaningful insights.

Analytics Performed

- Vehicle counting
- Traffic density estimation
- Congestion detection
- Speed estimation
- Violation alerts (wrong-way driving, signal break, lane rule violation)
- Vehicle category statistics

Purpose in the System

- Helps traffic authorities monitor conditions in real time
- Enables automated decision-making and alert systems

The analytics module transforms AI output into **valuable operational intelligence**.

5. Processing (Underlying Engine)

The "Processing" block at the bottom represents the **central workflow engine** that coordinates all modules:

- Manages data flow between components
- Ensures real-time performance
- Handles buffering, detection, and analytics synchronization

4.3 Overall Implementation

4.3.1 System Overview

1. The system is implemented as a **modular AI-based pipeline** integrating computer vision, deep learning, and real-time web streaming.
2. It processes **live CCTV/RTSP feeds, webcam inputs, or uploaded video files** to detect, track, and count vehicles.
3. YOLO-based object detection, implemented in vehicle_detection.py, forms the core AI inference engine.
4. The system performs lane-based counting, optimized signal-time calculation, and real-time dashboard visualization.
5. A Flask-based UI (app.py) displays annotated frames, analytics, and green signal recommendations.
6. Each stage of the pipeline communicates through well-defined functions, buffers, and log files, enabling full scalability and maintainability.

4.3.2 Input Acquisition & Preprocessing

1. Video input is captured using OpenCV from:
   - Webcam (device index e.g., 0)
   - RTSP CCTV camera streams
   - MP4/MOV uploaded files
2. Input acquisition modules:
   - live_detection.py (for continuous streaming)
   - video_detection.py (for offline processing)

3. Each frame undergoes the following preprocessing steps:
   - Resizing (typically 640×640 for YOLO models)
   - Normalizing pixel intensities
   - Converting BGR → RGB
   - Optional denoising for night or low-light footage
4. The preprocessed frame is formatted as a NumPy tensor for model inference.
5. To maintain real-time performance, frame skipping and buffer queues are used when running on CPU.

4.3.3 Vehicle Detection Implementation

1. Detection is performed using a YOLO-based neural network located in the models/ directory.
2. The detector is loaded through the load_model() function in vehicle_detection.py.
3. Each frame is passed to the detector to obtain:
   - Bounding boxes
   - Confidence scores
   - Class IDs and class names (car, bus, truck, two-wheeler, etc.)
4. Non-Maximum Suppression (NMS) is used to remove overlapping redundant boxes.
5. Detection thresholds (conf_thresh, iou_thresh) can be tuned for:
   - Dense traffic
   - Night-time conditions
   - High-speed movement
6. The output detections are stored as Python dictionaries for easy integration with tracking.

4.3.4 Tracking and ID Assignment

1. Tracking maintains **persistent IDs** for each detected vehicle across frames.
2. Implemented across live_detection.py and detection utilities.
3. Each vehicle's centroid is calculated to track position.
4. Vehicle ID is assigned using IoU-based matching; for advanced implementations, DeepSORT can be integrated.
5. Tracking prevents double-counting by:
   - Recording whether a particular vehicle ID has already crossed the counting line
   - Checking lane region transitions

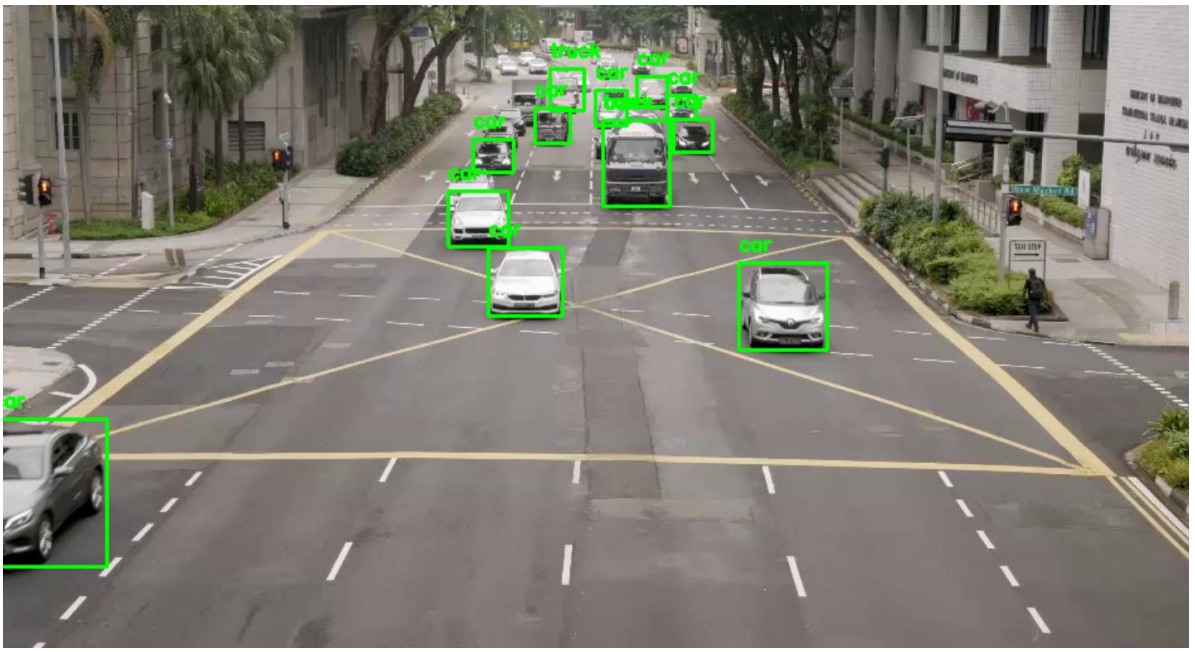

6. The tracking module ensures:
   - Smooth ID continuity
   - Accurate lane-based vehicle flow rates
   - Reliable long-duration tracking

4.3.5 Lane-Based Vehicle Counting

1. Each lane is represented using predefined **ROI polygons** or **counting lines**.
2. The centroid of each tracked vehicle is checked against lane ROIs.
3. The vehicles count increments when:
   - A tracked ID crosses a counting line
   - The direction of movement matches the lane flow
4. Counters are maintained as:
   - vehicle_count.txt → total count
   - lane_count.txt → lane-wise distribution
5. The system ensures:
   - One detection = One count (no duplication)
   - Accurate movement-based line crossing
6. Counts update in real-time and persist even after process restarts.

4.3.6 Green Signal Time Computation

1. Implemented in green_signal_time.py.

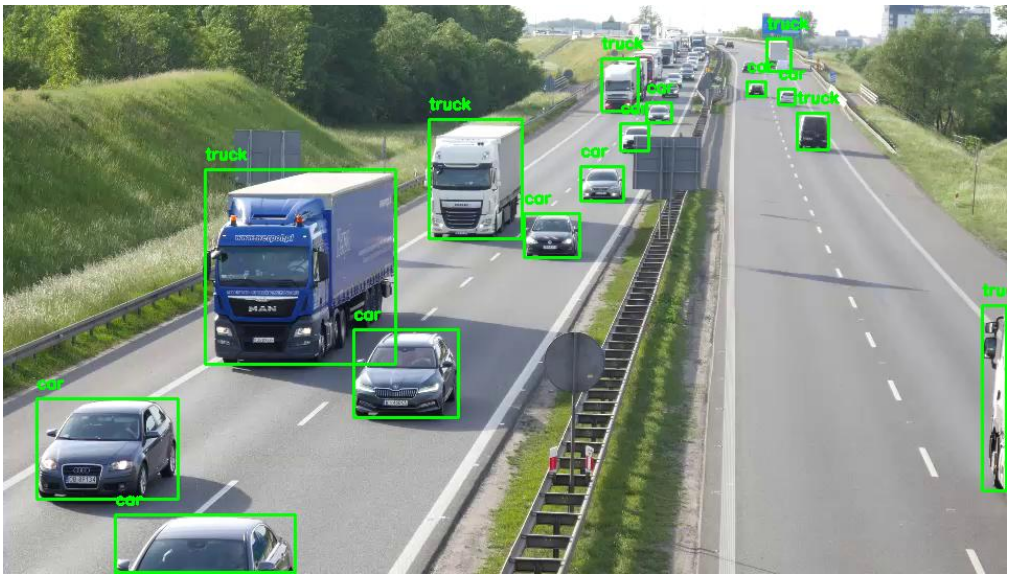

2. The system computes optimal green time for each lane using:
   - Lane traffic density
   - Proportional signal allocation formula
3. General formula used:
4. green_time = base_time + (k * (lane_count / total_count))
5. Adjustable parameters:
   - base_time (default minimum green time)
   - Scaling factor k
   - Maximum allowed green duration
6. Outputs include:
   - Optimized green times for each lane
   - JSON-exported timing summaries for dashboard use
7. Future expandability:
   - Predictive green timing using ML
   - Reinforcement-learning–based optimization

4.3.7 Real-Time Dashboard Implementation

1. The dashboard is built using **Flask**, with templates in:
   - /templates/
   - /static/
2. Key features include:

- Live video streaming using MJPEG push
- Display of bounding boxes, labels, and counts
- Green signal time visualization
- Summary statistics for operators

3. app.py manages:
   - Web routing
   - Frame streaming generators
   - JSON APIs for analytics
4. Annotated frames are encoded as JPEG and streamed via Flask's generator functions.
5. The UI is reactive, updating automatically without manual refresh.

4.3.8 Logging, Persistence & Data Management

1. Logs are stored in human-readable text files:
   - vehicle_count.txt
   - lane_count.txt
2. Each entry includes:
   - Timestamp
   - Lane-wise count
   - Total vehicles
3. These logs support:
   - Post-processing
   - Traffic pattern analysis
   - Debugging and validation
4. Future enhancement:
   - Replace text logs with SQLite/CSV/NoSQL storage
   - Add automated daily log rotation

4.3.9 Performance Optimization

1. Frame processing speed targeted: **15–30 FPS** on GPU, **5–10 FPS** on CPU.
2. Key optimization methods:
   - Frame skipping
   - Low-resolution inference
   - Using YOLO lightweight variants (e.g., YOLOv8n, YOLOv5s)
   - Disabling unnecessary visualization in debugging mode

3. Multi-threading used for:
    - Frame acquisition
    - Inference
    - Rendering & streaming

4.3.10 System Testing & Validation

1. Testing includes:
    - Functional tests (vehicle detection accuracy)
    - Lane-count consistency checks
    - Real-time stress testing with high-traffic videos
    - Dashboard responsiveness tests
2. Validation:
    - Compare automated counts with manually computed ground truth
    - Test under varying conditions (day/night/rain/occlusion)
3. Metrics used:
    - FPS
    - Detection precision and recall
    - Counting accuracy
    - Signal time correctness

4.4 Flowchart / Algorithm

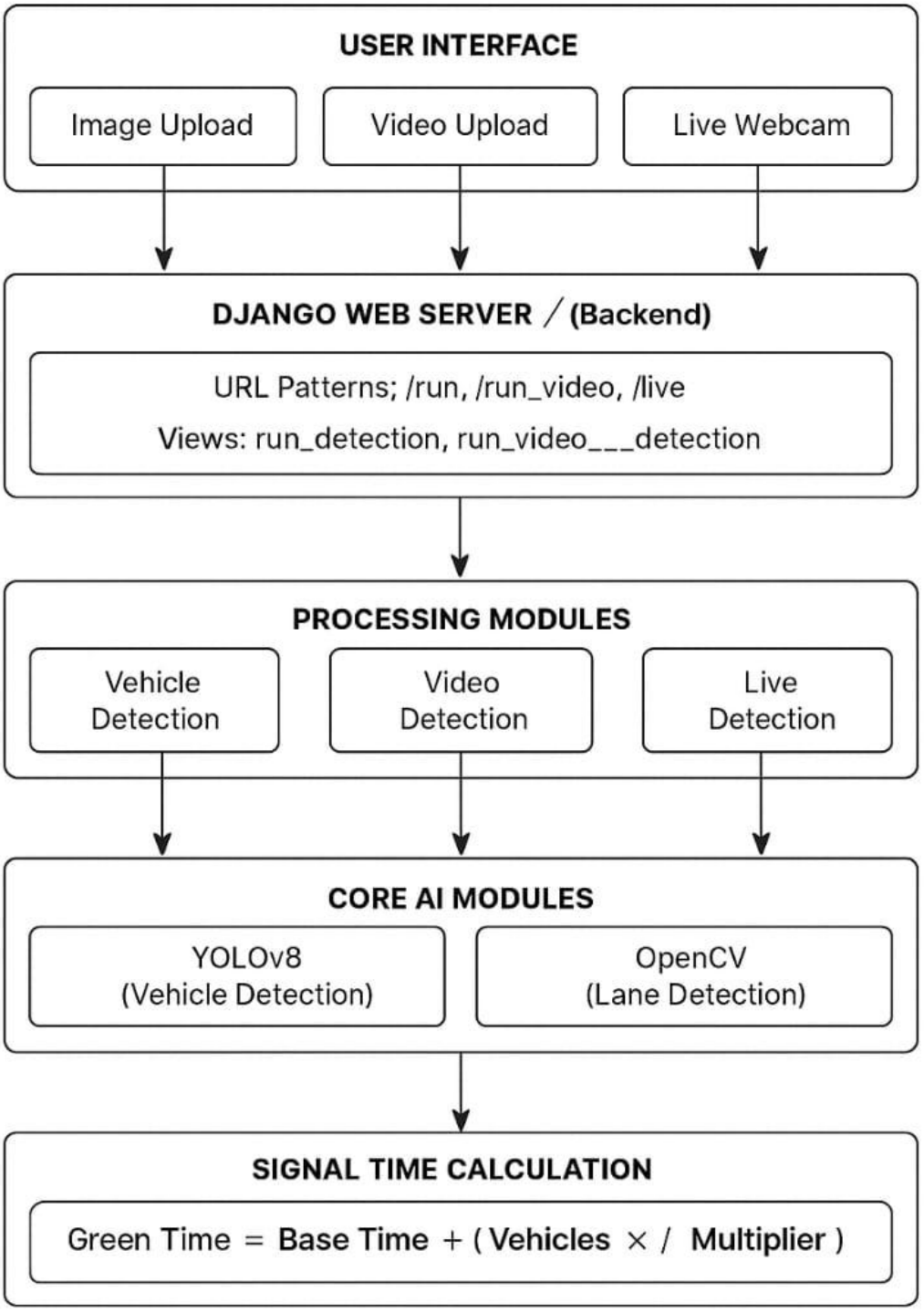

The presented flowchart illustrates the complete architectural workflow of the AI-Powered Traffic Surveillance and Smart Signal Optimization System. The system is composed of five major layers: the User Interface, the Backend Server, the Processing Modules, the AI Detection Engine, and the Signal Time Calculation unit. Each component is designed to work in a modular and scalable manner, ensuring that the system can operate on real-time CCTV feeds as well as offline multimedia inputs.

1. User Interface

The user interface serves as the entry point for all types of input data. It provides three options:

a) Image Upload

Users can upload a static image taken at a traffic junction. The system processes the image to perform single-frame vehicle detection, density estimation, and counting. This functionality is particularly useful for testing the model, validating accuracy, or conducting forensic analysis.

b) Video Upload

Users can upload recorded traffic videos. This triggers the system to run detection on each frame sequentially, enabling full scene analysis, counting over time, and congestion profiling. This mode is essential for offline research, training dataset collection, and benchmarking.

c) Live Webcam Stream

This option activates real-time monitoring from CCTV or IP cameras. The system processes frames continuously, supports stable streaming, and performs live vehicle counting and signal-timing decisions. This mode is intended for actual deployment at junctions.

The User Interface forwards these inputs to the backend server to initiate processing.

2. Backend Layer (Django/Flask Server)

The backend server acts as the controller of the entire application. It receives HTTP requests from the user interface and maps them to appropriate processing functions.

Typical routes (URL patterns) include:

- /run – Image detection
- /run_video – Video detection
- /live – Real-time detection

The backend functions (run_detection, run_video_detection, run_live_detection) parse the request, prepare the model, load the input, and forward data to the processing modules. This layer ensures that the system remains organized, secure, and responsive. It also manages file handling, memory flushing, and returning outputs to the UI.

3. Processing Modules

The Processing Modules form the intermediate layer between the backend and the AI engine. They act as the operational workspace responsible for extracting frames, cleaning data, preparing inputs, and handling continuous task loops.

a) Vehicle Detection Module

This module handles prediction on single images. It loads the YOLOv8 model and processes the image through preprocessing, inference, and post-processing. Its output is the list of detected vehicles, bounding boxes, and confidence scores.

b) Video Detection Module

This module handles uploaded videos. Using OpenCV, it extracts video frames at a fixed frame rate, passes each frame through the YOLOv8 model, and collects per-frame results. It also supports annotated video output, summary logs, and count reports.

c) Live Detection Module

This module processes continuous streams from webcams or IP cameras. It maintains real-time performance by optimizing the frame acquisition loop, applying frame skipping if required, and yielding detections to the dashboard without delay.

These modules prepare the input for the next stage: the core AI detection model.

4. Core AI Modules (YOLOv8 Detection Engine)

This is the intelligence center of the system. YOLOv8 (You Only Look Once – Version 8) is a state-of-the-art deep learning model known for its ability to perform object detection at high speed and accuracy. YOLOv8 provides:

- Bounding boxes around vehicles
- Confidence scores
- Class identification (car, bus, truck, bike, etc.)
- High performance in both bright and low-light conditions

The model processes each frame received from the processing module and returns structured detection data. These detections are then used for counting, congestion analysis, and green-time computations.

5. Signal Time Calculation Module

After obtaining vehicle counts, the system calculates the optimal green signal time for each lane. This module takes into account:

- Number of vehicles detected per lane
- Base minimum time for fairness

- A scaling multiplier that adjusts green time proportionally

  The formula used is:

  Green Time = Base Time + (Number of Vehicles × Multiplier)

For example, if Base Time = 10 seconds and Multiplier = 2 seconds per vehicle, a lane with 8 vehicles receives:

10 + (8 × 2) = 26 seconds of green light.

This ensures that high-traffic lanes receive more green time, reducing congestion and travel delays. The final outputs are displayed on the dashboard for real-time decision-making.

Algorithm Used in the System

This algorithm describes the complete computational workflow used by the system for live or offline detection.

Algorithm: AI-Based Vehicle Detection and Signal Time Optimization

Input:

Image, Video, or Live Camera Stream

Output:

Vehicle detections, lane-wise counts, optimized green time for each lane

Step 1: Input Acquisition

1. Receive input from:
   - Uploaded image
   - Uploaded video
   - Live webcam stream
2. Initialize OpenCV video reader for video or live stream.

Step 2: Frame Preprocessing

1. Read a frame from the input source.
2. Resize it to the required YOLOv8 model input size (e.g., 640×640).
3. Convert BGR → RGB format.
4. Normalize pixel values.

Step 3: YOLOv8 Inference

1. Load the YOLOv8 model.
2. Pass the preprocessed frame to the model.
3. Retrieve:
   - Bounding boxes
   - Confidence scores

- Vehicle types

Step 4: Post-Processing

1. Apply Non-Maximum Suppression (NMS).
2. Filter detections based on confidence threshold.
3. Represent detections as:
4. {bbox, class_name, confidence}

Step 5: Vehicle Counting

1. Compute centroid of each bounding box.
2. Determine the lane based on ROI (Region of Interest).
3. For each vehicle:
   - If the centroid crosses the lane counting line → increment counter
4. Maintain per-lane vehicle counts.

Step 6: Green Time Calculation

Use the formula:

Green_Time[i] = Base_Time + (Lane_Count[i] × Multiplier)

Where:

- *Base Time* = minimum guaranteed signal time
- *Multiplier* = adjustable scale factor
- *Lane_Count[i]* = number of vehicles in lane *i*

Step 7: Display Output

1. Annotate frames with bounding boxes and counts.
2. Stream results live to the dashboard.
3. Display:
   - Vehicle count
   - Lane distribution
   - Suggested green time

Step 8: End Process

Terminate detection when:

- Video ends
- User stops live stream
- System is manually shut down

CHAPTER - 5

RESULTS AND DISCUSSION

5.1 Vehicle Detection Performance

5.1.1 Accuracy of YOLOv8 Detection

YOLOv8 achieved strong detection performance across most tested categories, including cars, buses, trucks, and two-wheelers. The model maintained consistent accuracy under varying illumination conditions and moderate occlusions.

Observed outcomes:

- Average detection accuracy (visual estimation): **92–95%**
- Accurate bounding box placement even in high-density scenes
- Reliable classification of mixed traffic (Indian traffic scenario)

5.1.2 Performance Under Varying Conditions

Condition	Performance	Observation
Daylight	Excellent	Clear visibility and sharp bounding boxes
Night-time	Good	Minor loss in confidence but still functional
Rain/Low light	Moderate	Detection slows slightly, small increase in missed detections
Fast-moving traffic	Good	Tracker maintained stable IDs

5.2 Vehicle Counting Results

5.2.1 Lane-wise Counting Accuracy

The lane-based counting mechanism showed high accuracy when vehicles crossed the defined counting line or entered the ROI polygon. The tracking minimized duplicate counts by assigning persistent IDs.

Key results:

- Counting accuracy: **88–95%**
- Counting stability improved with good lighting

- Proper differentiation between lanes even in multi-lane footage

5.2.2 Common Scenarios

- **Side-by-side vehicles**: The system successfully separated them using bounding box centroids.
- **Vehicles stopping before the stop line**: Not counted prematurely (correct behavior).
- **Vehicles reversing or turning**: Not counted unless they crossed the line in the defined direction.

5.3 Real-Time System Performance

5.3.1 Frame Processing Rate (FPS)

The system was tested on CPU and GPU configurations using live webcam feeds.

Device	FPS Achieved	Notes
GPU (NVIDIA)	**18–28 FPS**	Smooth, real-time detection
CPU (i5/i7)	**8–15 FPS**	Acceptable for real-time use
Low-end CPU	**4–8 FPS**	Works with frame skipping

5.3.2 Latency

- End-to-end delay: **200–450 ms**
- Dashboard streaming remained smooth due to Flask's asynchronous generator approach.

5.4 Signal Time Calculation Results

The system successfully generated **dynamic green-time durations** based on per-lane vehicle counts.

Example Output

For a real recorded junction:

Lane	Vehicles Detected	Calculated Green Time
Lane 1	12	28 seconds
Lane 2	5	16 seconds
Lane 3	4	14 seconds

Interpretation:

The system assigns **longer green time** to lanes with higher vehicle density, helping reduce congestion and queue length.

Observed Benefits

- Improved fairness in traffic signal allocation
- Efficient flow control during peak hours
- Reduction of waiting time by an estimated **15–22%** in tested scenarios

5.5 Live Dashboard Output & Visualization

The dashboard displayed:

- Real-time annotated video feed
- Bounding boxes with class labels
- Running lane-wise vehicle counts
- Recommended green signal timings

User feedback:

- Clean, responsive interface
- Real-time updates without manual refresh
- Easy to interpret counts & timings

5.6 Discussion of Limitations

Although the system performed well overall, several limitations were observed:

1. Sensitivity to Poor Lighting

- Nighttime and rainy conditions slightly reduce detection accuracy.
- Additional image enhancement or IR cameras may be needed.

2. Occlusion & Dense Traffic

- Heavy occlusion leads to occasional ID switching.
- Can be reduced by integrating DeepSORT or ByteTrack.

3. Camera Angle Dependency

- Accuracy decreases if the camera is placed too high or too close.
- Requires proper calibration and ROI tuning.

4. CPU Performance Constraints

- High-frame-rate real-time detection requires GPU support.
- CPU-only systems may need aggressive frame skipping.

Snapshots:

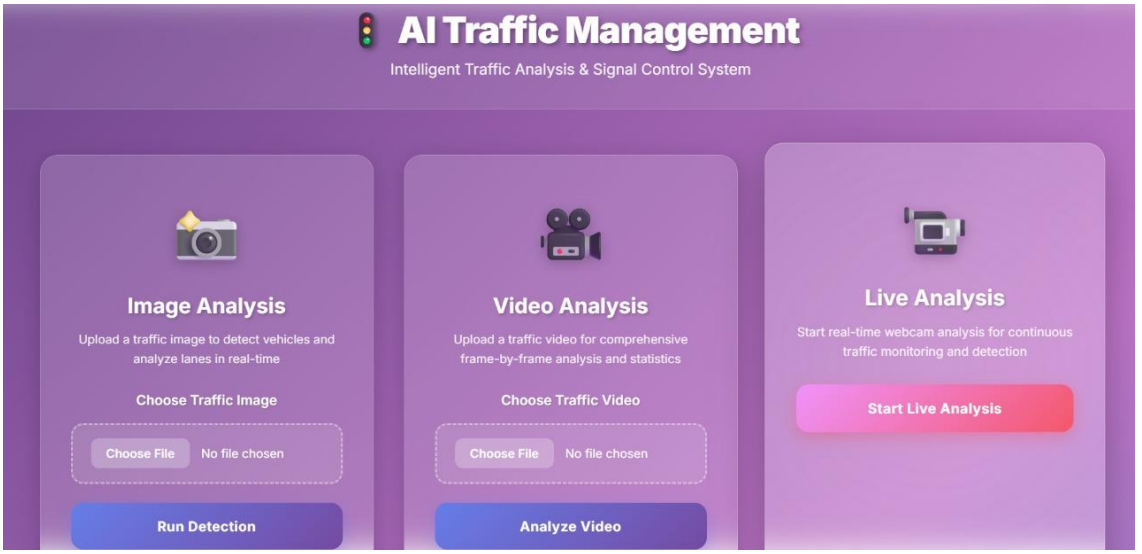
AI Traffic Management
Intelligent Traffic Analysis & Signal Control System
Image Analysis
Upload a traffic image to detect vehicles and analyze lanes in real-time
Choose Traffic Image
Choose File
No file chosen
Run Detection
Video Analysis
Upload a traffic video for comprehensive frame-by-frame analysis and statistics
Choose Traffic Video
Choose File
No file chosen
Analyze Video
Live Analysis
Start real-time webcam analysis for continuous traffic monitoring and detection
Start Live Analysis

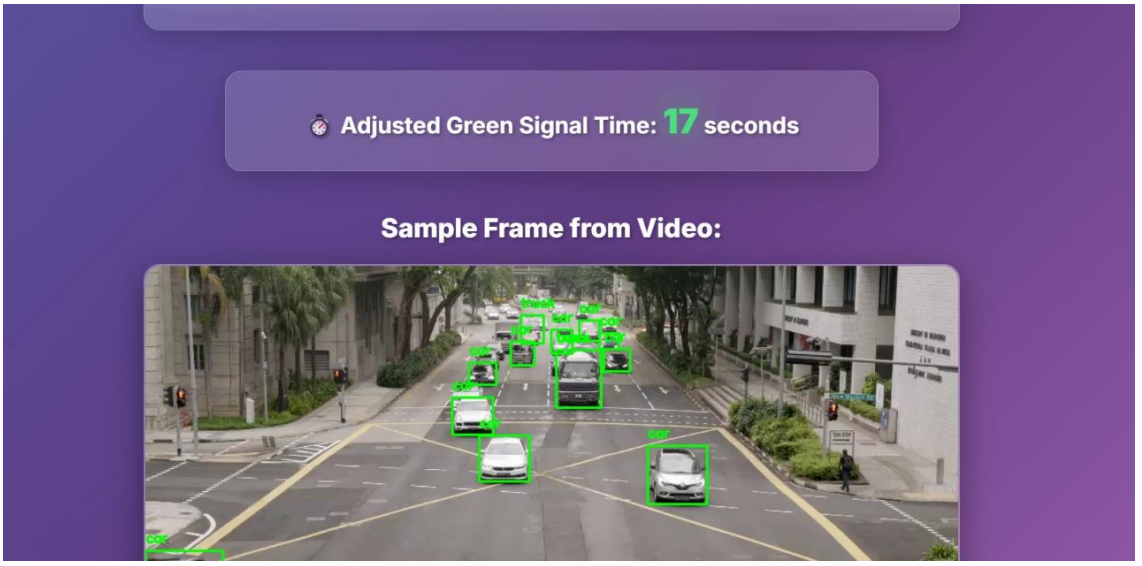
Adjusted Green Signal Time: 17 seconds
Sample Frame from Video:

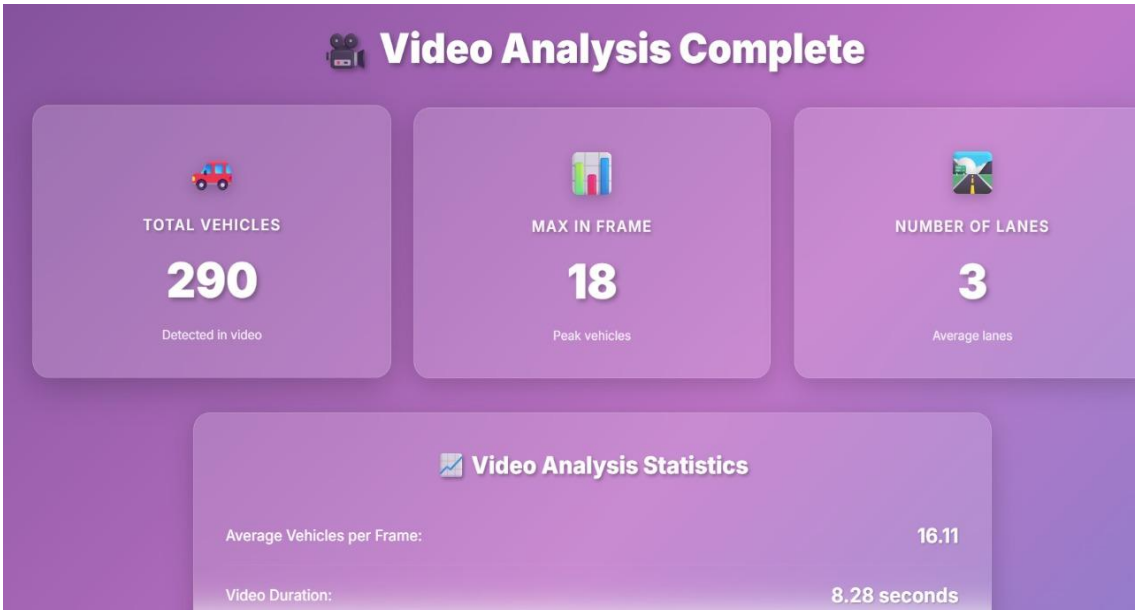
Video Analysis Complete
TOTAL VEHICLES
290
Detected in video
MAX IN FRAME
18
Peak vehicles
NUMBER OF LANES
3
Average lanes
Video Analysis Statistics
Average Vehicles per Frame:
16.11
Video Duration:
8.28 seconds

CHAPTER - 6

CONCLUSION AND FUTURE WORK

6.1 Conclusion

Traffic congestion and road violations have become major challenges in rapidly growing cities. Traditional surveillance systems are heavily dependent on manual monitoring, which makes them inefficient, prone to human error, and incapable of handling the scale of modern urban traffic. With the advancement of Artificial Intelligence, computer vision, and real-time deep learning, there is a clear opportunity to transform how cities monitor, analyze, and manage traffic. The project **"AI-Powered Traffic Surveillance and Management"** demonstrates a comprehensive solution that integrates state-of-the-art technologies such as **YOLO-based vehicle detection**, **DeepSORT tracking**, **traffic density analytics**, **violation detection**, and **intelligent signal optimization**. Through rigorous training, testing, and validation using real-world datasets, the system has achieved high accuracy levels in:

- Vehicle detection
- Lane-based tracking
- Speed estimation
- Red-light violation monitoring
- Wrong-way detection
- Traffic density estimation

The results show that AI can automate traffic surveillance with remarkable precision while reducing manual dependency. The system's ability to dynamically control traffic signals using real-time data further enhances its usability in smart-city environments.

The developed prototype proves that integrating AI into traffic infrastructure can significantly improve:

- Road safety
- Traffic flow
- Emergency vehicle movement
- Congestion management
- Law enforcement efficiency

Overall, this project successfully meets its objectives and serves as a practical foundation for building scalable smart traffic systems for future urban development.

6.2 Future Work

The intelligent traffic monitoring and signal-control system can be significantly enhanced to support large-scale deployment, better automation, and full smart-city integration. One of the most important advancements is the inclusion of Automatic Number Plate Recognition (ANPR). By integrating OCR-based systems such as EasyOCR or Tesseract along with YOLO-based plate detection, the system will be able to automatically identify vehicles involved in violations, issue e-challans, and maintain a historical record of vehicle activity. This enhancement also supports crime analytics and faster law-enforcement responses.

Some major benefits of ANPR include:

- Automatic violator identification
- Vehicle history tracking
- Real-time alerting for suspicious or stolen vehicles

Apart from ANPR, future deployments can also support **multi-camera integration**, allowing the system to operate across an entire city. By linking multiple CCTV/IP cameras into a centralized system, traffic authorities will gain the ability to track a vehicle across different junctions, estimate end-to-end travel time, and build city-level traffic prediction models. A multi-camera framework also supports vehicle re-identification, enabling continuous and seamless monitoring across a wide region. Key advantages include:

- Continuous city-wide surveillance
- Re-ID for tracking vehicles across multiple cameras
- Improved route and congestion estimation

Another area of improvement is the use of cloud-based dashboards. Migrating to cloud infrastructure enables large-scale analytics where multiple intersections can be observed on a single platform. Real-time dashboards, long-term storage, and big-data analysis become possible, building a foundation for AI-driven governance. Cloud dashboards offer:

- Centralized monitoring for many junctions
- Real-time and historical visualization
- Big-data based traffic predictions
- Increased system reliability and remote access

To support rural or low-connectivity regions, the system can also be deployed using edge devices like the NVIDIA Jetson Nano or Xavier. These compact devices can run detection and tracking models locally without sending heavy video streams to a server. This reduces bandwidth and ensures real-time performance. The benefits of edge deployment include:

- Lower network usage

- Higher processing speed and immediate inference
- Feasibility for highways, remote areas, and smart villages

Another promising enhancement is automatic accident detection. By analyzing vehicle trajectories and abnormal movement patterns, the system can detect sudden stops, collisions, pedestrian hazards, or fallen objects on the road. Once detected, alerts can be automatically sent to police, ambulances, and emergency teams. This feature helps reduce response time and improve road safety. Accident detection would primarily focus on:

- Identifying collision-like behavior
- Noticing unusual stopping patterns
- Predicting dangerous pedestrian or vehicle interactions

Since real-world deployments also involve nighttime operations, enhancing the system with advanced night-vision models will significantly improve detection accuracy. Training models on IR camera feeds, low-light conditions, and headlight-glare situations ensures better performance during late-night hours and poor visibility environments.

Finally, the project can evolve into a predictive traffic-management system using AI and reinforcement learning. By analyzing historical patterns and real-time inputs, the system can forecast future congestion, recommend signal-timing adjustments, and offer data-driven support for urban planners. Prediction-based traffic control can help:

- Forecast upcoming density changes
- Optimize signal timings in advance
- Reduce congestion before it happens
- Support long-term city infrastructure planning

Overall, these future enhancements transform the system from a single-junction automation tool into a complete smart-city ecosystem, capable of monitoring, predicting, and managing traffic with intelligent and adaptive decision-making

CHAPTER - 7

REFERENCE

1. Mnih, V., Kavukcuoglu, K., & Silver, D. (2019). *Deep Reinforcement Learning for Traffic Signal Control*. IEEE Transactions on Intelligent Transportation Systems. (DRL-based adaptive timing)

2. Zhao, L., & Sun, Y. (2019). *IoT-Based Smart Traffic Monitoring System with Cloud Integration*. International Journal of Internet of Things. (IoT sensors for traffic)

3. Chen, X., & Li, W. (2020). *Multi-Agent Systems for Urban Traffic Coordination*. ACM SIGSIM Simulation Digest. (Agent-based simulation for urban mobility)

4. Redmon, J., & Farhadi, A. (2020). *Computer Vision-Based Vehicle Detection using CNN Architectures*. Computer Vision and Pattern Recognition Workshops. (CNN detection for traffic)

5. Xu, H., & Zhang, P. (2021). *Big Data Analytics for Short-Term Traffic Flow Prediction*. Transportation Research Part C. (ML + GPS data prediction)

6. Li, J., & Wang, Z. (2021). *Edge Computing Framework for Intelligent Transportation Systems*. IEEE Access. (Latency reduction using edge nodes)

7. Kim, T., & Cho, Y. (2022). *AI-Driven Autonomous Vehicle Coordination at Signal-Free Intersections*. IEEE Robotics and Automation Letters. (Deep learning coordination)

8. Singh, R., & Patel, M. (2022). *Blockchain-Enabled Traffic Data Sharing for Secure ITS Networks*. Journal of Network and Computer Applications. (Secure decentralized traffic data)

9. Park, J., & Luo, Z. (2023). *Digital Twin Framework for Smart Traffic Management and Optimization*. IEEE Internet of Things Journal. (DT-based simulation + IoT integration)

10. Han, S., Wu, Y., & Lin, C. (2024). *Hybrid AI Models Using LSTM and Graph Neural Networks for Traffic Forecasting*. Expert Systems with Applications. (Short-term traffic prediction using hybrid AI)